3D Reconstruction with Gaussian Splatting: A Review

Christian Faccio[1] *, Elena Lorite[1] †and Jorge Huedo Martínez[1] ‡

[1]University of Alicante

Abstract

I

Introduction

In the field of Computer Vision, 3D scene and object reconstruction from multiple views is the task in which the geometrical structure of a scene is inferred from a collection of images. The objective is to solve a pixel-wise correspondence problem from these images, assuming or estimating the position of the cameras and the internal parameters [1]. Although being one of the most fundamental problems in the field, it still poses several challenges. Different methods exist, each with different representations and outputs, and with their own compromises in speed, complexity or accuracy [2]. Over the years, new advances have been achieved, proposing methodologies able to perform real time and detailed reconstructions of 3D scenes; one of these methodologies is Gaussian Splatting, which uses 3D Gaussians with Structure-from-Motion (SfM) inputs [3]. In broader terms, it represents the scene as a cloud of 3D Gaussian points, enabling efficient and realistic visualization with effects like transparency and anti-aliasing. In this work, we review the state of the art of the methods that address the problem of multiview 3D scene reconstruction using the Gaussian Splatting technique. The document is structured as follows: Section 2 introduces the literature previous to Gaussian Splatting and the basis behind the Gaussian Splatting technique. Section 3 explains the details behind the Gaussian Splatting methodology as well as a discussion of its performance and other extensions of the technique. Section 4 explores different applications of the Gaussian Splatting technique in other works. Section 5 performs a practical experimentation on Gaussian Splatting models for further insights. Finally, Section 6 summarises the information from the previous sections.

*christianfaccio@outlook.it
†elenalorite@gmail.com
‡jhm31@alu.ua.es

Previous Work

In this section, we discuss different methodologies and resources for 3D multiscene reconstruction that have been relevant in the literature of the topic. We expect to provide a general context of the field of 3D reconstruction to those readers who may not be up to date in the field as well as providing understanding on what characterises the Gaussian Splatting technique, explained in detail in Section 3.

TODO: Find reviews

Photogrammetry

Photogrammetry refers to the act of taking reliable measurements from photographs. Specifically, it relies in the idea that an object can be represented in three dimension from multiple two-dimensional images taken from different angles, following the same principles behind the stereoscopic human vision [4]. It can be understood as an inverse process from photography: obtain a 3D model from features of 2D representations. One of the key concepts in photogrammetry is **triangulation**: the process of identifying common points in overlapping pictures to determine its position in the 3D space, with the use of external parameters like camera position and orientation [5]. Fig. 1 features a diagram of this process. In the field of computer vision, the pipeline of recovering 3D information from images is often referred as Structure-from-Motion (SfM). One benefit of SfM is that projection matrices can be computed from the corresponding points in each view [6].

The pipeline is traditionally composed of four steps: *feature extraction*, which consists on detecting local features, ideally invariant under geometric changes, from the source images; *feature matching*, in which the previously obtained features are used to identify images that see the same scene part; *3D reconstruction*, and finally, *bundle adjustment*, in which the 3D points and camera positions are refined. However, this process can vary between works. For example in [7], feature matching is followed by a geometric verification step that tries to estimate a transformation

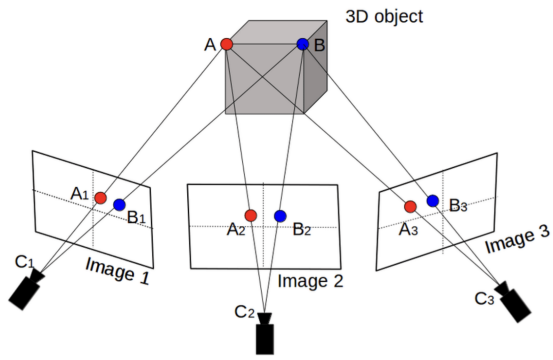

Figure 1: *Process of triangulation in 3D reconstruction.*

mapping between feature points of the images using geometric relations. In addition, 3D reconstruction is done incrementally, based on image registration from an initial two-view reconstruction and triangulation. Since the outputs of SfM pipelines are sparse point clouds and camera positions, it is usual to apply additional techniques such as Multi-view Stereo (MVS). This method also produces a 3D model from 2D inputs, but relies on information that can be calculated by SfM such as camera parameters. MVS outputs a dense 3D representation in contrast with SfM, refining its output as a result [8]. The MVS pipeline, as previously stated, typically uses the camera poses from SfM to estimate a depth map for each image and fuse them into the 3D point clouds. Then, volumetric 3D reconstruction is applied to construct a triangular mesh of the object [9]. Recently, research has drifted towards learning-based modules like DUSt3R [10], which computes a stereo reconstruction for all the image pairs to obtain globally aligned pointmaps for all the cameras optimising pairs of rigid transformations and local pointmaps. Other works such as Light3R-SfM [11] aim to directly obtain the globally aligned camera poses avoiding the global alignment step through the use of an attention module.

Neural Radiance Fields (NeRF)

Neural radiance fields (NeRF) represent a scene as a continuous function, mapping a position and a direction to a specific colour and volume density. NeRF models approximate this function by means of neural networks, specifically MLP, regressing from a 5D coordinate (encoding the position in the space and the direction) to the density and colour [12]. This method also utilises positional encodings to create a mapping of the input to the high frequencies, improving the resolution of the output. Nowadays, feed-forward approaches are being proposed. As stated in [13], this addresses the optimisation specific for each scene which limits generalisation. From this approach, several models can be classified based on the shape of its features: 1D, 2D or 3D. Some methods try to encode a one-dimensional vector that englobes the NeRF prediction, such as CodeNeRF [14]. It extends the original NeRF methodology by learning to disentangle shape and texture by learning separate embeddings. However, this approach requires optimisation on test time. For 2D feature representations, models typically employ an image encoder. We can find some examples in the literature such as NerFormer [15]. This approach employs Transformers and neural implicit rendering to learn how to reconstruct the object thanks to jointly aggregate features from the source views. Finally, we could identify different types of 3D feature-based models from the type of 3D feature it uses as its representation [13]. On one hand, models can employ 3D volume features, which are inspired by the previously mentioned MVS. A specific example of this is MVSNeRF [16], which focuses on learning a generic network for radiance field reconstruction. Specifically, the radiance field is used to do regression for the rendering properties of the object, which is then used in the synthesis. On the other hand we find models that use 3D triplane features, such as the Large Reconstruction Model (LRM) [17]. This model is based on a Transformer architecture as well, consisting of an image encoder (which encodes the input into feature tokens) and a decoder that projects such features into a triplane representation. This representation is used for NeRF prediction.

3D-Free Models

TODO

Datasets

To conclude this section, we introduce a collection of datasets used for training and validating 3D reconstruction models. The aim is to provide context on what is typically found in a dataset, and to motivate the choice of dataset for the experimentation reported in Section 5.

In [18], emphasis is put on how reconstruction performance can vary substantially across different scenarios, and datasets are grouped according to what they represent: human bodies, indoor scenes and outdoor scenes. We follow the same taxonomy here, but only as a brief overview, since the bulk of the discussion focuses on the datasets that have become the de-facto benchmarks for 3D Gaussian Splatting.

Human bodies. Datasets in this category typically consist of multi-view RGB or RGB-D recordings of one or more subjects, paired with 3D body, skeleton or mesh annotations obtained from motion-

capture systems. Representative examples include Human3.6M, ZJU-MoCap and the THuman series. They are used mostly for human-centric reconstruction, avatar generation and dynamic body modeling, rather than for full-scene novel view synthesis.

Indoor scenes. These datasets capture rooms and buildings with RGB-D sensors or laser scanners and provide dense ground-truth geometry. Common examples are ScanNet, Replica and Matterport3D, which are widely used as benchmarks for indoor SLAM, surface reconstruction and semantic 3D scene understanding.

Outdoor scenes. Outdoor datasets cover street-scale and large-scale environments captured from vehicles, drones or handheld rigs, with ground truth coming from LiDAR or terrestrial laser scanners. Representative examples include KITTI for autonomous driving scenarios, ETH3D for high-resolution multi-view stereo, and Tanks and Temples for large-scale scene reconstruction.

Benchmarks for 3D Gaussian Splatting. Although the datasets above span the whole 3D reconstruction landscape, the literature on 3D Gaussian Splatting has converged on a much smaller set of benchmarks, originally introduced by the seminal paper [3]: Mip-NeRF 360, Tanks and Temples, Deep Blending, and the synthetic NeRF Blender dataset. Most subsequent works on 3DGS extensions, compression and applications report results on these same datasets, which makes them the natural reference for any new experiment.

Mip-NeRF 360 [19] is the most widely used 3DGS benchmark. It consists of nine real, unbounded, object-centric scenes (five outdoor and four indoor), each captured with 100–330 photographs taken on an orbital trajectory around a central object, with shared intrinsics calibrated using the OpenCV radial distortion model. Its mixture of indoor and outdoor environments and its background complexity make it a particularly challenging testbed for novel view synthesis.

Tanks and Temples [20] is a large-scale scene reconstruction benchmark with high-resolution video captures and ground-truth point clouds acquired with an industrial laser scanner. The 3DGS paper reports results on the "Truck" and "Train" sequences, which have since become standard test scenes for 3DGS variants targeting larger environments.

Deep Blending [21] provides 19 scenes and roughly 2,630 photographs together with COLMAP SfM and MVS reconstructions, refined depth maps and a global textured mesh. The 3DGS paper evaluates on the "Dr Johnson" and "Playroom" scenes, which exhibit cluttered indoor geometry and view-dependent effects that stress free-viewpoint rendering methods.

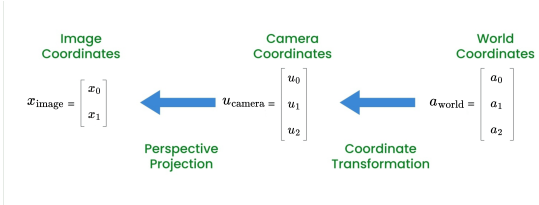

Figure 2: *Process of projecting a 3D Gaussian into a 2D image plane.*

NeRF Synthetic (Blender) [12] contains synthetic, object-centric scenes rendered from Blender models. Being noise-free and fully controlled, it is mainly used for ablation studies and as a sanity-check benchmark.

Beyond these four classics, more recent datasets are starting to extend 3DGS benchmarking to capture conditions that the original benchmarks do not cover. A notable example is *FIORD* [22], a fisheye indoor-outdoor dataset of ten scenes (five indoor and five outdoor) recorded with a dual 200ř fisheye rig and accompanied by Faro LIDAR ground-truth point clouds. FIORD provides baseline results for vanilla 3DGS and Nerfacto, and specifically targets the wide field-of-view setting that is largely absent from Mip-NeRF 360 and Tanks and Temples.

For the experimentation reported in Section 5, we adopt *Mip-NeRF 360* as the reference dataset: it contains both indoor and outdoor scenes, it is supported out of the box by virtually every 3DGS implementation, and it was used in the original 3DGS paper, which makes our results directly comparable to the published baselines.

Gaussian Splatting

How it works

The algorithm is composed of three main parts:

1. Initialization of multiple 3D gaussians randomly
2. Optimization of their parameters using gradient descent and Adaptive Density Control
3. Efficient rendering using a differentiable tile-based rasterizer

A single gaussian is defined as:

$$f_i(x) = \sigma(\alpha_i) \exp^{-\frac{1}{2}(x-\mu_i)^T \Sigma_i^{-1}(x-\mu_i)} \tag{1}$$

but now that we have a 3D volume composed of gaussians, how do we represent it in 2D?

We simply change coordinates using first a coordinate transformation (3D->3D) and then a perspective projection (3D->2D). The first is defined as:

$$w_{camera} = E_{world}^{camera} a_{world} = Ra_{world} + T \tag{2}$$

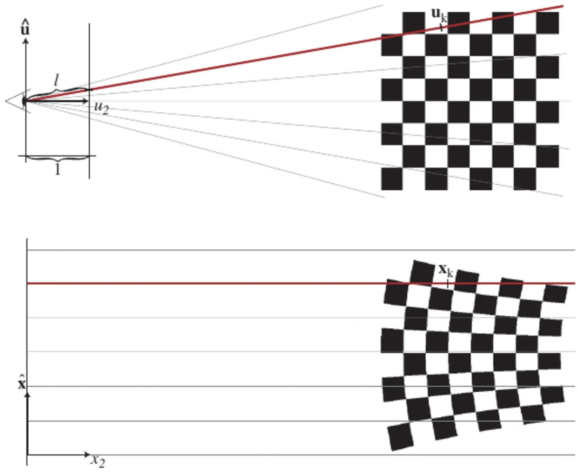

Figure 3: *Process of transforming the 3D Gaussians into the Ray Space.*

where R is a rotation matrix and T a translation vector. The perspective projection, instead, uses an **intrinsic matrix** (K) to project the 3D coordinates into 2D coordinates.

We have to apply this concept to the gaussians, which is a bit different. Since it is defined by a covariance matrix () and a mean vector (), the resulting distribution when transformed by the coordinate transformation () becomes:

$$a \sim \mathcal{N}(\mu, \Sigma) \rightarrow \phi(a) \sim \mathcal{N}(W\mu + P, W\Sigma W^T) \quad (3)$$

After this step, we go to the **Ray Space**, a special non-linear transformation (3D->3D) that aligns the rays parallel to a coordinate axis making it easier to integrate along the ray [23].

With this transformation, the mean vector becomes:

$$m_{w_k}(u) = x_k + J_{w_k}(w - w_k), \quad J_{w_k} = \frac{\partial m_{w_k}}{\partial w(u_k)} \quad (4)$$

while the covariance matrix becomes:

$$\Sigma = \Sigma_{ray} = JW\Sigma W^T J^T \quad (5)$$

Now we can start understanding the algorithm:

1. *Input*: sparse point cloud from SfM + camera positions
2. Each point is used to **initialize** the 3D gaussians
3. Then **optimization** kicks in: we sample a camera position with image and project it into a 2D image plane. The image is rendered using that projection and a tile-based rasterizer, which is used to calculate the loss:

$$L = (1 - \lambda)L_1 + \lambda L_{D-SSIM} \quad (6)$$

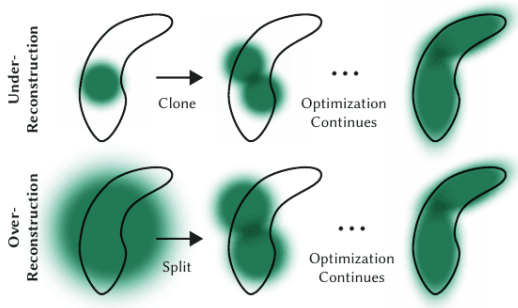

Figure 4: *Process of optimization and adaptive density control in Gaussian Splatting.*

where the second component is an image similarity measure that uses Luminance, Contrast and Structural information.

4. **Adaptive Density Control** adjusts dynamically number, density and parameters of the gaussians to accurately represent the 3D scene. It uses:
   (a) *Pruning*: if opacity is too small or the gaussian is too large, it is removed
   (b) *Densification*: by Over-reconstruction, i.e., when regions are represented by too large or overlapping gaussians and in this case the gaussian is split in 2, or Under-reconstruction, i.e., the opposite and in this case we merge or duplicate the gaussians.

Finally, **tile-based rasterization** is used to represent the 3D gaussians in a 2D image. The process is the one outlined above, with the single modification that the image is splitted in tiles so that parallelization and efficient use of GPUs can be done.

Extensions of Gaussian Splatting

TODO

https://github.com/Anttwo/SuGaR ?

https://github.com/kcheng1021/GaussianPro

https://github.com/dreamgaussian/dreamgaussian

Applications

This section explores some of the diverse applications of 3D Gaussian Splatting (3DGS) as documented in the most recent literature from 2025 and 2026. As we will see in recent real-word tasks, 3DGS has evolved into a robust framework for geometric reconstruction and semantic scene understanding.

TODO: Explain a bit more how and where each framework integrates gaussian splatting.For now, just described and summarized some of the recent work.

Bird's-Eye-View (BEV) Representation and Autonomous Driving

One of the most significant integrations of 3DGS is in autonomous driving pipelines. Instead of treating the perception as a black-box, recent frameworks like Splat2BEV [24] use 3DGS as an intermediate representation. The approach allows the following:

- *Semantic segmentation*. It achieves state of the art results in identifying obstacles such as vehicles and pedestrians, and road elements like lanes by streaming information from vision foundation models into the Gaussian field.
- *Geometry-aligned representations*. Projecting 3D Gaussians into a top-down perspective (BEV space) to support downstream tasks like 3D object detection, path planning, etc.
- *Simulation and sensor modeling*. It transforms large outdoors environments into editable Gaussian representations for effective rendering and also sensor simulation in testing environments.

In Splat2BEV, 3DGS is implemented as an intermediate representation by using what is called as Gaussian Generator (G_θ), which is a feed-forward network that reconstructs 3D scenes from multi-view inputs. The generator first predicts a depth map for each perspective view, which is then unprojected into 3D space to establish the mean positions (μ) of the Gaussian primitives. Additional attributes for each Gaussian, like opacity (σ) or covariance (Σ), are estimated by different prediction heads. Then, to enhance semantic understanding, a feature vector (f) that can be learned is attached to each Gaussian, allowing the framework to stream knowledge from vision foundation models (like DINO) directly into the Gaussian field. As mentioned earlier, Splat2BEV transforms the 3D Gaussians into a top-down BEV space. It does that by implementing a orthogonal projection, so the linear transformation preserves the geometric consistency of the scene when viewed form above. A Jacobian matrix (J_{ortho}) specifically designed for the BEV camera model is used to project each Gaussian into 2D space. Once the Gaussians are projected, a BEV feature map is integrated by using the differentiable rendering capability of 3DGS. The resulting BEV feature map is the direct input for BEV encoder and a segmentation head, which produce the final predictions for pedestrians, vehicles and road lanes. The implementation of the framework follows a process of, first, pretraining the Gaussian generator to achieve accurate 3D reconstruction; then, the generator is frozen while the BEV encoder and segmentation heads are trained to interpret the 3DGS representation. Finally, the pipeline is fine-tuned, allowing gradients from the specific task's losses to flow back into the 3D Gaussian field to optimize the geometry and features for specific goals.

Another framework that focuses on the topic of autonomous driving is SSTD-GS [25], a self-supervised approach used for dynamic scene reconstruction. It enables:

- *Spatiotemporal deformation*. It achieves fine modeling of dynamic objects by predicting the motion properties of the Gaussian using a deformation field, capturing the movements without requiring manual 3D annotations.
- *Uncertainty mask optimization*. It utilizes a self-supervised strategy to optimize both static and dynamic objects, improving the clarity of modeling in complex urban environments.
- *Gaussian adaptive control*. It manages to suppress bad-quality densification caused by rendering errors, ensuring a robust scene reconstruction.

In the framework SSTD-GS, 3DGS is used as the core scene representation, augmented with a spatiotemporal deformation field to adress dynamic street scenes. SSTD-GS is built on normal Gaussian primitives, defined by their position (μ), opacity (σ), covariance (Σ) and spherical harmonics (SH); and to enable the dynamic modeling, the framework adds two additional learnable parameters to each Gaussian: learnable velocity v and a semantic attribute f_{sem}. v encodes the motion characteristics of elements to learn deformations, and f_{sem} ensures semantic consistency across frames so the objects do not disappear during the reconstruction. The framework also implements a multi-head Gaussian decoder to transform the static Gaussians into dynamic ones. This is achieved by predicting the offset of the attributes, specifically four: position, pose, scale and appearance; as the decoder has four heads. Additionally, to supervise the 3D Gaussian field, the framework uses features based on 2D image from vision foundation models to generate a dynamic mask (M) for each frame. The velocity attributes of the Gaussians are mapped into a 2D velocity map, and the system then applies a loss function to ensure that Gaussians outside the mask (static ones) have velocity zero, separating dynamic and static elements.

Bi-Modal and Thermal Mapping

Gaussian attributes have such versatility that it has opened the door to multimodal applications, such as those that combine regular RGB photos with infrared (IR) images. This is what the BiNAR [26] framework proposes.

- *RGB-IR fusion*. The BiNAR framework allows the joint scene reconstruction of non aligned RGB

and IR data. This can be applied to unmanned aerial night-time inspection and post-disaster thermal mapping, where thermal information is crucial, but lacks the resolution and texture of RGB images.
- *Temperature modeling*. The authors of the framework created and released a new dataset that supports the recovery of real world temperature values at pixel level, aligned with the high resolution 3D geometry.

TODO: Explain where and how Gaussian Splatting is applied in BiNAR

Urban Surveying and "In-the-Wild" Reconstruction

Drones equipped with 3DGS-based frameworks like DroneSplat [27] can be used for robust reconstruction in uncontrolled environments. This framework is useful for:

- *Eliminating dynamic distractors*. 3DGS methods can identify and mask moving objects (pedestrians or vehicles) in an adaptive way, producing static models of busy urban areas like streets and intersections.
- *Geological and cultural preservation*. The maneuverability of drones combined with the representational capabilities of 3DGS can support geological investigations and the digital preservation of cultural sites that are difficult to access.

TODO: Explain where and how Gaussian Splatting is applied in DroneSplat

Super-Resolution and Sparse View Reconstruction

Recent architectural improvements have augmented the applicability of 3DGS to areas or scenarios with limited and low-quality data. Frameworks like SR3R [28] can achieve it in the 3D scene, while other like MeshSplat [29] are applied in 2D scenarios:

- *Super-resolution reconstruction*. SR3R can reconstruct high-resolution 3D scenes from low-resolution (LR) multi-view images, enabling high quality 3D models even when the hardware is limited.
- *Sparse-view mesh generation*. Although not a 3D approach, MeshSplat uses 2D Gaussians as a link to integrate accurate surface geometry from very sparse input views, helping mesh reconstruction in computer vision tasks.

TODO: Explain where and how Gaussian Splatting is applied in SR3S and (optionally) MeshSplat

Infrastructure Inspection and Digital Twins

In the field of high fidelity modeling of industrial infrastructure, 3DGS has showed superior performance, especially in scenarios where traditional LiDAR struggles. Research on [30] utilizes 3DGS to shed light on the following topics:

- *Power grid management*. Using 3DGS for the rapid 3D reconstruction of power transmission towers excelled at preserving fine structural details, like thin cables. These fine details are critical for fault detection and structural inspections.
- *Asset lifecycle management*. By reducing the modeling time by $\sim$ 70% compared to traditional methods, 3DGS seems to provide a technical foundation for digital twins, permitting documentation in virtual environments.

TODO: Explain where and how Gaussian Splatting is applied in [30]

Other authors also proposed a novel GS-enabled digital twin method [31] for precise 3D damage visualization in civil infrastructures. This framework provides some key contributions:

- *Joint visualization and reconstruction*. Instead of first reconstructing and then visualizing the damages, this GS-based method incorporates the visualization directly into the reconstruction workflow by incorporating 2D segmentation results into the loss function, so the model is able to learn and correct segmentation errors while visualizing 3D damage simultaneously.
- *Hierarchical reconstruction*. By using a hierarchical reconstruction strategy, the framework is able to conserve computational resources by first using low-resolution images for the initial overview of the structure. Then, only for regions with damage, high-resolution images are used to fine-tune the model, achieving a detailed reconstruction.
- *Damage progression tracking*. It enables model updates as the conditions of the structure evolve, so it permits the documentation of damage progression without requiring a full re-run of the scene reconstruction.

TODO: Explain where and how Gaussian Splatting is applied in [31]

Experimentation

To complement the literature review, we ran a small reproduction of the original 3D Gaussian Splatting pipeline on a single Mip-NeRF 360 scene, you can find the relative Colab notebook here. The goal of

this experiment is not to push state of the art, but to (i) get hands-on experience with the official implementation, (ii) verify that the results reported in [3] are reproducible on a modest GPU, and (iii) provide concrete numbers (training time, model size, rendering speed) that put the qualitative descriptions of Section 3 in context.

Setup

We use the official reference implementation released by the authors of [3] (`graphdeco-inria/gaussian-splatting`) without any modification, running it on a Google Colab notebook so that the experiment is fully reproducible from a browser. The notebook used for this experiment is available in the `experimentation/` folder of the project repository.

The hardware used is a single NVIDIA T4 GPU (16 GB VRAM), which is the default Colab free-tier accelerator and a much weaker GPU than the NVIDIA A6000 used in the original paper. This allows us to verify that the method remains usable on entry-level hardware.

As discussed in Section 4, we evaluate on the **Mip-NeRF 360** dataset [19], which is the de-facto benchmark for 3DGS. Among the nine scenes, we focus on `bonsai`, an indoor scene of about 290 photographs. Three considerations motivate this choice: it is one of the smallest scenes in the dataset, so the full 30k-iteration training run fits comfortably in the Colab time budget; it is contained, so the unbounded-background issues that affect the outdoor scenes are minimised; and it is reported in Table 1 of [3], which gives us a direct reference to compare against. Images are processed at half resolution (the `images_2/` folder shipped with the dataset), and the official Mip-NeRF 360 train/test split is used (every 8th view held out for testing).

Protocol

We follow exactly the protocol of [3]: 30,000 optimisation iterations, the default Adaptive Density Control schedule, and the same composite $\mathcal{L}_1 + \mathcal{L}_{\text{D-SSIM}}$ loss with $\lambda = 0.2$. After training we use the `render.py` and `metrics.py` scripts shipped with the repository to render the test views and compute PSNR, SSIM and LPIPS. We additionally measure (a) the wall-clock training time, (b) the final number of 3D Gaussians (read directly from the saved `point_cloud.ply`), and (c) the inference frame rate, obtained by re-rendering all test views in a tight loop after a short warm-up.

Results

Table 1 reports our measurements alongside the reference numbers published in [3] for the same scene.

Metric	Ours (Colab T4)	Reference [3]
PSNR (↑)	32.44	32.20
SSIM (↑)	0.948	0.941
LPIPS (↓)	0.173	0.205
Training time (min)	67	~ 30
# Gaussians (10^6)	1.07	—
Inference FPS	42.9	~ 150

Table 1: *3D Gaussian Splatting on the Mip-NeRF 360* `bonsai` *scene. Our run uses a Colab T4 GPU; the reference numbers are reported in Table 1 of [3] and were obtained on an NVIDIA A6000.*

Quality. The three quality metrics land essentially on top of the reference numbers: PSNR is 0.24 dB higher, SSIM is $+0.007$, and LPIPS is 0.032 lower (i.e. better) than [3]. Since these metrics are scene-intrinsic and the official Mip-NeRF 360 train/test split is deterministic, the small differences are entirely consistent with the stochastic nature of Adaptive Density Control: each run of the optimiser converges to a slightly different cloud of Gaussians, but the rendering quality on the test views remains stable. The take-away is that the original 3DGS recipe is reproducible out of the box on a free Colab T4, with no hyper-parameter tuning, and that the published quality numbers are not an artifact of the high-end hardware used in the paper.

Speed. The two metrics that do depend on hardware tell a much less rosy story. Training takes 67 minutes on the T4 against the ~ 30 minutes reported on an A6000 ($\sim 2.2\times$ slower), and inference runs at 42.9 FPS against ~ 150 FPS ($\sim 3.5\times$ slower). This gap is in line with the raw compute difference between the two GPUs: the T4 delivers around 8 TFLOPS of FP32 throughput against ~ 38 TFLOPS for the A6000, and has substantially less memory bandwidth. It is worth noting, however, that even at 42.9 FPS the trained model is comfortably above the 30 FPS interactive threshold, and on a free Colab GPU. This is the practical strength that the 3DGS paper advertises: even on entry-level hardware, the rendering pipeline remains real-time, while NeRF-style methods on the same scene would take seconds per frame.

Model size. The final model contains ~ 1.07 million Gaussians, which at the standard 59 floats per Gaussian corresponds to roughly 250 MB on disk. This is a small enough footprint to be streamed over the network and visualised in a browser, and explains why an entire ecosystem of in-browser 3DGS viewers and editors has appeared since the original paper.

Overall, the experiment confirms the central mes-

sage of [3]: 3D Gaussian Splatting offers a very favourable quality-vs-cost trade-off compared to NeRF-based pipelines, and the trade-off scales gracefully down to commodity GPUs.

Conclusions

References

[1] Computer Vision Group, TUM. *Multi-View Reconstruction*. https://cvg.cit.tum.de/research/image-based_3d_reconstruction/multiviewreconstruction. Accessed: 2026-04-06.

[2] "A review of 3D reconstruction methods". In: *ScienceDirect* (2025). URL: https://www.sciencedirect.com/science/article/pii/S2307187725008508.

[3] Bernhard Kerbl et al. "3D Gaussian Splatting for Real-Time Radiance Field Rendering". In: *ACM Transactions on Graphics* 42.4 (2023). URL: https://arxiv.org/pdf/2308.04079.

[4] 2Freedom. *What is Photogrammetry?* https://2freedom.net/en/what-is-photogrammetry/. Accessed: 2026-04-06.

[5] Artec 3D. *What is Photogrammetry?* https://www.artec3d.com/learning-center/what-is-photogrammetry. Accessed: 2026-04-06.

[6] Teresa Lobo Ateresa. *Understanding Structure from Motion Algorithms*. Medium. URL: https://medium.com/@loboateresa/understanding-structure-from-motion-algorithms-fc034875fd0c.

[7] Johannes L. Schönberger and Jan-Michael Frahm. "Structure-from-Motion Revisited". In: *IEEE Conference on Computer Vision and Pattern Recognition (CVPR)*. 2016.

[8] *In computer vision, what does MVS do that SfM can't?* Stack Overflow. URL: https://stackoverflow.com/questions/39217717/in-computer-vision-what-does-mvs-do-that-sfm-cant.

[9] Andrea Romanoni and Matteo Matteucci. "Facetwise Mesh Refinement for Multi-view Stereo". In: *2020 25th International Conference on Pattern Recognition (ICPR)*. IEEE, 2021, pp. 6794–6801.

[10] Shuzhe Wang et al. "DUSt3R: Geometric 3D Vision Made Easy". In: *Proceedings of the IEEE/CVF Conference on Computer Vision and Pattern Recognition (CVPR)*. 2024, pp. 20697–20709.

[11] Sven Elflein, Qunjie Zhou, and Laura Leal-Taixé. "Light3R-SfM: Towards Feed-forward Structure-from-Motion". In: *Proceedings of the IEEE/CVF Conference on Computer Vision and Pattern Recognition (CVPR)*. 2025, pp. 16774–16784.

[12] Ben Mildenhall et al. "NeRF: Representing Scenes as Neural Radiance Fields for View Synthesis". In: *European Conference on Computer Vision (ECCV)*. 2020. URL: https://arxiv.org/pdf/2003.08934.

[13] *A Survey on Feed-forward Neural Radiance Fields*. arXiv preprint. 2025. URL: https://arxiv.org/pdf/2507.14501.

[14] Wonbong Jang and Lourdes Agapito. "CodeNeRF: Disentangled Neural Radiance Fields for Object Categories". In: *Proceedings of the IEEE/CVF International Conference on Computer Vision (ICCV)*. 2021. URL: https://arxiv.org/pdf/2109.01750.

[15] Jeremy Reizenstein et al. "Common Objects in 3D: Large-Scale Learning and Evaluation of Real-life 3D Category Reconstruction". In: *Proceedings of the IEEE/CVF International Conference on Computer Vision (ICCV)*. 2021. URL: https://arxiv.org/pdf/2109.00512.

[16] Anpei Chen et al. "MVSNeRF: Fast Generalizable Radiance Field Reconstruction from Multi-View Stereo". In: *Proceedings of the IEEE/CVF International Conference on Computer Vision (ICCV)*. 2021. URL: https://arxiv.org/pdf/2103.15595.

[17] Yicong Hong et al. *LRM: Large Reconstruction Model for Single Image to 3D*. arXiv preprint. 2023. URL: https://arxiv.org/pdf/2311.04400.

[18] "A Review of Datasets for 3D Reconstruction". In: *Sensors* 24.7 (2024), p. 2314. URL: https://www.mdpi.com/1424-8220/24/7/2314.

[19] Jonathan T. Barron et al. "Mip-NeRF 360: Unbounded Anti-Aliased Neural Radiance Fields". In: *Proceedings of the IEEE/CVF Conference on Computer Vision and Pattern Recognition (CVPR)*. 2022. URL: https://arxiv.org/abs/2111.12077.

[20] Arno Knapitsch et al. "Tanks and Temples: Benchmarking Large-Scale Scene Reconstruction". In: *ACM Transactions on Graphics* 36.4 (2017).

[21] Peter Hedman et al. "Deep Blending for Free-Viewpoint Image-Based Rendering". In: *ACM Transactions on Graphics (SIGGRAPH Asia)* 37.6 (2018).

[22] Ulas Gunes Sahin et al. "FIORD: A Fisheye Indoor-Outdoor Dataset with LIDAR Ground Truth for 3D Scene Reconstruction and Benchmarking". In: *International Conference on Multimedia Modeling (MMM)*. Springer, 2025. URL: https://arxiv.org/abs/2504.01732.

[23] Matthias Zwicker et al. "EWA volume splatting". In: *Proceedings Visualization, 2001. VIS'01.* IEEE, 2001, pp. 29–538.

[24] *Splat2BEV: Gaussian Splatting for Bird's-Eye-View Representation*. arXiv preprint. 2026. URL: https://arxiv.org/pdf/2603.19193.

[25] "SSTD-GS: Self-Supervised Spatiotemporal Deformation Gaussian Splatting for Dynamic Driving Scenes". In: *Big Earth Data* (2025). URL: https://www.tandfonline.com/doi/full/10.1080/20964471.2025.2595830.

[26] et al. Wang. "BiNAR: A Bi-Modal Framework for Non-Aligned RGB-IR 3D Reconstruction via Gaussian Splatting". In: *Proceedings of the IEEE/CVF Winter Conference on Applications of Computer Vision (WACV)*. 2026. URL: https://openaccess.thecvf.com/content/WACV2026/papers/Wang_BiNAR_A_Bi-Modal_Framework_for_Non-Aligned_RGB-IR_3D_Reconstruction_via_WACV_2026_paper.pdf.

[27] et al. Tang. "DroneSplat: 3D Gaussian Splatting for Robust 3D Reconstruction from In-the-Wild Drone Imagery". In: *Proceedings of the IEEE/CVF Conference on Computer Vision and Pattern Recognition (CVPR)*. 2025. URL: https://openaccess.thecvf.com/content/CVPR2025/papers/Tang_DroneSplat_3D_Gaussian_Splatting_for_Robust_3D_Reconstruction_from_In-the-Wild_CVPR_2025_paper.pdf.

[28] *SR3R: Super-Resolution 3D Reconstruction*. arXiv preprint. 2026. URL: https://arxiv.org/abs/2602.24020.

[29] "MeshSplat: Sparse-View Mesh Reconstruction with 2D Gaussian Splatting". In: *Proceedings of the AAAI Conference on Artificial Intelligence* (2025). URL: https://ojs.aaai.org/index.php/AAAI/article/view/37260.

[30] "3D Gaussian Splatting for Power Transmission Tower Reconstruction and Digital Twins". In: *Sustainability* 18.2 (2026), p. 726. URL: https://www.mdpi.com/2071-1050/18/2/726.

[31] *Gaussian Splatting Digital Twins for 3D Damage Visualization in Civil Infrastructure*. arXiv preprint. 2026. URL: https://arxiv.org/pdf/2602.16713.